Cityscape and Cycle Paths: Understanding Regional Disparities in US Bike-Sharing Systems

Myra Nguyen, Jaren Canty, and Taaj Andrews

In this analysis, we examine bike ridership data across the United States, sourced from the publicly available Docked Bikeshare Ridership by System, Year, and Month. This dataset contains detailed information on bike trips made across various cities, including key metrics such as trip counts, trip durations, system types, and geographical locations. Given the increasing popularity of bike-share systems as a sustainable and efficient mode of urban transportation, understanding ridership patterns is essential for improving system performance, ensuring equitable access, and informing urban planning decisions. The primary goal of this analysis is to explore these ridership patterns and identify insights related to system performance, trip durations, and seasonal variations in bike-share usage.

Our analysis is guided by several key research questions that aim to uncover deeper insights into bike-share usage across different regions. First, how does the density of bike-sharing systems and usage vary across different metropolitan areas in the United States? Second, is there a significant difference in the average trip duration between the four seasons (Winter, Spring, Summer, and Fall)? Lastly, how did the COVID-19 pandemic impact bike-sharing usage patterns in different cities and regions? These research questions help uncover key insights into bike-share usage by examining regional differences in system density, seasonal variations in trip duration, and the impact of the COVID-19 pandemic on ridership patterns. Together, they provide a deeper understanding of factors that influence bike-sharing trends across the United States.

To ensure that the data was suitable for addressing these questions, we began by reviewing and cleaning the original dataset using Python scripts and the Pandas library. We first streamlined the dataset by removing irrelevant columns such as geon, sysorder, and may_ind, focusing on key variables related to bike trips, system types, and geographic locations to better assess the density of bike-sharing systems across metropolitan areas. Next, we cleaned the sum_min (trip duration) and num_trip (number of trips) columns, addressing records where both values were zero, to ensure accurate analysis of seasonal variations in trip duration. Lastly, we utilized Pandas to identify and resolve anomalies, particularly those related to missing or

incomplete data, which could have been impacted by the COVID-19 pandemic. This step ensured that the dataset was complete and reliable for examining its effects on bike-sharing usage.

After cleaning the data, we created a PostgreSQL database that included three key tables: the system table, the date table, and the fact ridership table. The system table captured details about the bike-sharing systems and their geographic locations, the date table recorded time-based dimensions for analysis, and the fact ridership table aggregated data on trips and their associated metrics. The cleaned dataset was then matched with the corresponding tables, and all relevant information was imported into PostgreSQL.

Additionally, since we aimed to focus on cities rather than specific bike-share companies, we simplified the system names during the import into Tableau. We created aliases for the sysname field, reducing it to represent only the city and state associated with each bike-sharing system. This adjustment allowed for a more streamlined and city-focused analysis, making it easier to compare ridership trends across different metropolitan areas. This structured and refined dataset now provides a robust foundation for comprehensive analysis, enabling insights into bike-share usage patterns across the United States.

With a robust and cleaned dataset prepared, we now turn to addressing the key research questions identified earlier. Using Tableau and Python, we created visualizations and conducted statistical tests to uncover trends and patterns in bike-share ridership. Each question is explored in detail below, with an explanation of the graph types, calculated fields, and statistical techniques used to support our findings.

To explore how the density of bike-sharing systems and their usage vary across U.S. cities, we created a symbol map in Tableau (see Figure 1). This map displays the locations of bike-sharing systems across various cities, with the size and color of the dots representing the volume of bike trips. As the color intensity increases, so does the number of trips recorded for each city.

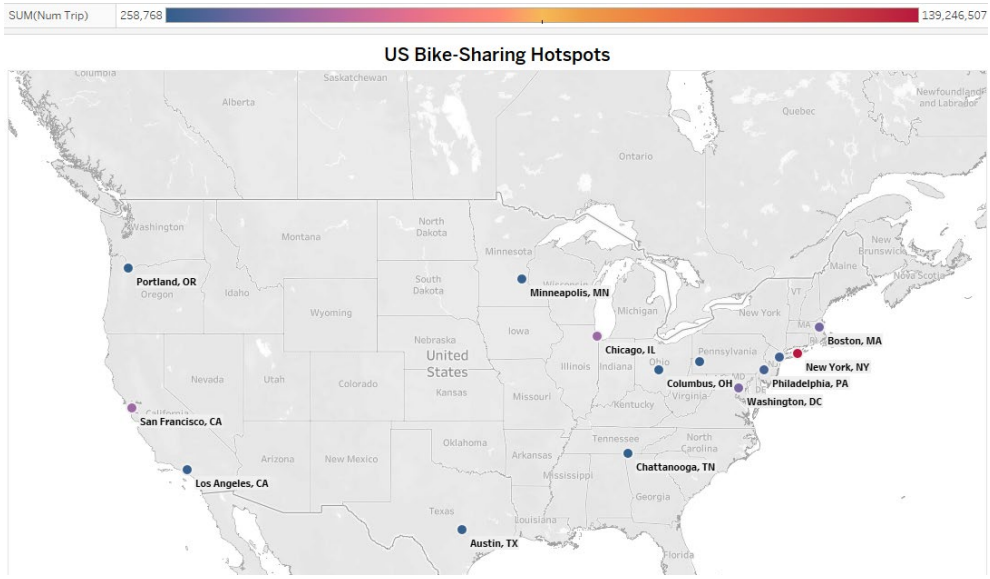

Figure 1 :Map of U.S. bike-sharing hotspots, with color intensity representing the number of trips. Darker colors indicate higher trip volumes in each city.

Upon analyzing the map, it is evident that bike-sharing systems and usage exhibit considerable variation across U.S. cities. High-density metropolitan areas such as New York, Boston, Chicago, and San Francisco show a clear correlation between bike-sharing system availability and high usage, likely driven by factors including population density, robust public transportation infrastructure, and a culture conducive to cycling. In contrast, cities like Philadelphia, Washington D.C., and Minneapolis, while home to notable bike-sharing programs, display lower trip volumes, suggesting that usage may be influenced by factors such as less extensive infrastructure or different transportation preferences. Furthermore, cities located in the Midwest and South generally demonstrate lower densities of bike-sharing systems and fewer trips, reflecting potential regional disparities in infrastructure development and user demand.

To evaluate if there is a significant difference in the average trip duration between the four seasons (Winter, Spring, Summer, and Fall), we first performed data preprocessing using Python. We loaded the dataset, sorted it by season, and calculated the average trip duration by dividing the total minutes by the number of trips. To ensure data quality, we removed rows with missing or infinite values and confirmed the data was in numeric format. We then grouped the data by season and ran an ANOVA test to assess whether the mean trip durations differed between the seasons.

Following the ANOVA analysis, we visualized the results using a boxplot, which displays the distribution of average trip durations across the four seasons. The plot was annotated with the F-statistic and p-value from the ANOVA test to highlight the statistical significance of

the findings. This visualization provided a clear comparison of trip durations across seasons and supported the interpretation of the ANOVA results (See Figure 2 below).

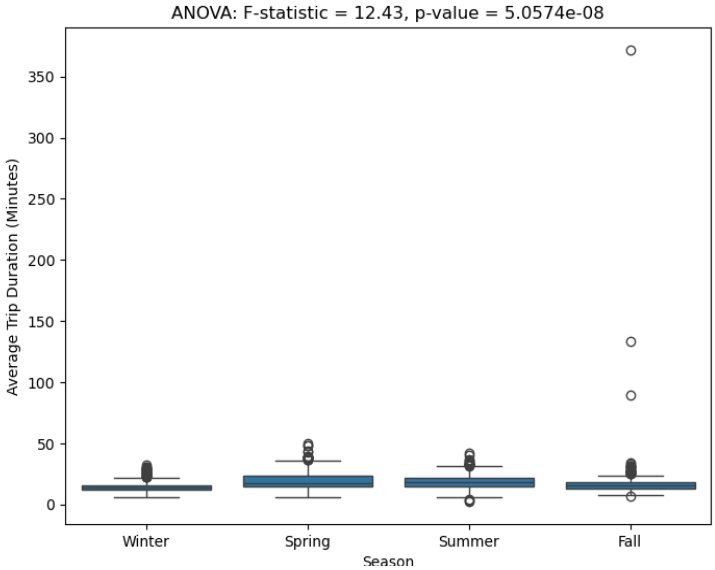

Figure 2: Boxplot of average trip durations by season, with ANOVA results.

The analysis revealed significant seasonal variations in bike-sharing trip durations. The ANOVA test showed statistically significant differences ($p < 0.05$ and $p < 0.001$) with a large F-statistic. Shorter winter trips, likely due to colder weather and fewer daylight hours, contrasted with longer trips in spring, summer, and fall, which may be linked to more favorable weather and increased outdoor activities. However, the data, covering 2019-2023, includes a period affected by the COVID-19 pandemic, which resulted in reduced ridership during colder winters. These anomalies suggest the need to interpret the findings with caution, especially regarding the winter data.

To understand how COVID-19 impacted bike-sharing usage across different cities, we analyzed annual ridership data using K-means clustering. This revealed three distinct groups: high-ridership cities like New York, which experienced a significant boom in usage, medium-ridership cities like Philadelphia and Washington D.C. with moderate usage, and low-ridership cities like Austin, Chattanooga, and Pittsburgh. Cities like Portland, Oregon, with less data and potentially lower initial usage, may not show clear trends or recovery patterns. These findings highlight the varying impacts of the pandemic on bike-sharing, influenced by factors like population density, bike infrastructure, and local policies (See Figure 3).

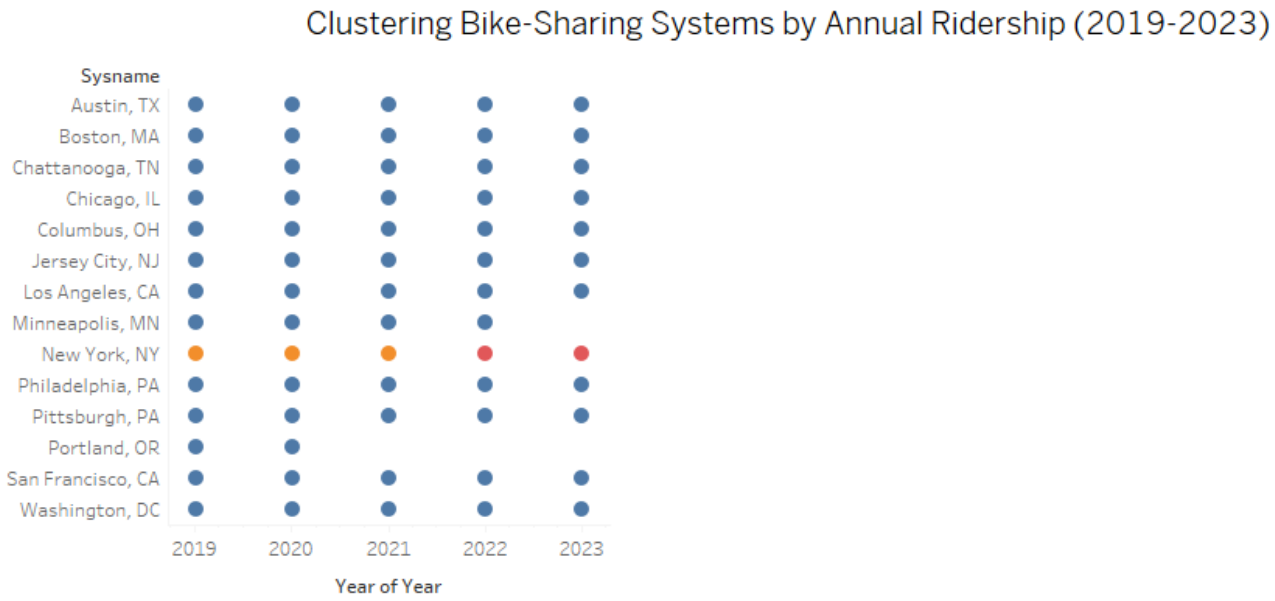

Figure 3: Bike-Sharing Usage Trends by City (2019-2023) illustrates how bike-sharing usage varied across different cities during the COVID-19 pandemic, with cities grouped according to their annual ridership patterns.

Our analysis of bike-sharing usage trends from 2019 to 2023 provides insight into how the COVID-19 pandemic shaped urban transportation across various cities. By gathering and cleaning data on annual ridership, we identified significant shifts in usage patterns, addressing inconsistencies, normalizing data, and considering external factors such as infrastructure changes and policy adjustments.

The findings reveal that while the pandemic initially caused a decline in bike-sharing usage, cities with established infrastructure or proactive policies were able to recover more quickly. Cities that adapted services, offering greater flexibility or promoting bike-sharing as a safer alternative to public transit, saw a faster rebound. This variability underscores the importance of local context in shaping transportation system responses to global disruptions.

The study suggests that bike-sharing is not only a viable solution during crises but also a key component of sustainable urban mobility. However, there are still many factors to explore, such as local economic conditions, urban density, and weather patterns, which could further refine our understanding of bike-sharing adoption. Future research could also investigate how other global disruptions, such as climate change or economic recessions, impact bike-sharing usage. This expanded analysis could help inform policy recommendations for building more resilient and adaptable urban transportation systems.

Reference Page

Bureau of Transportation Statistics. (September 6, 2024). *Docked bikeshare ridership by system, year, and month*. U.S. Department of Transportation. Retrieved November 20, 2024, from https://data.bts.gov/Research-and-Statistics/Docked-Bikeshare-Ridership-by-System-Year-and-Mont/cvai-skrf/about_data